1. Upload Dataset

```python
#Upload Dataset
from google.colab import files
import pandas as pd
import io

uploaded = files.upload()
df = pd.read_csv(io.BytesIO(uploaded[list(uploaded.keys())[0]]))
df.head()
```

```
Choose Files  Dataset (1).csv
Dataset (1).csv(text/csv) - 22497716 bytes, last modified: 6/18/2025 - 100% done
Saving Dataset (1).csv to Dataset (1).csv
```

	Restaurant ID	Restaurant Name	Country Code	City	Address	Locality	Locality Verbose	Longitude	Latitude	Cuisines	...	Currency	Has Table booking	Has Online delivery	Is delivering now	Switch to order menu	Price range	Aggregate rating	Rating color	Rating text	Votes
0	6317637	Le Petit Souffle	162	Makati City	Third Floor, Century City Mall, Kalayaan Avenu...	Century City Mall, Poblacion, Makati City	Century City Mall, Poblacion, Makati City, Mak...	121.027535	14.565443	French, Japanese, Desserts	...	Botswana Pula(P)	Yes	No	No	No	3	4.8	Dark Green	Excellent	314
1	6304287	Izakaya Kikufuji	162	Makati City	Little Tokyo, 2277 Chino Roces Avenue, Legaspi...	Little Tokyo, Legaspi Village, Makati City	Little Tokyo, Legaspi Village, Makati City, Ma...	121.014101	14.553708	Japanese	...	Botswana Pula(P)	Yes	No	No	No	3	4.5	Dark Green	Excellent	591
2	6300002	Heat - Edsa Shangri-La	162	Mandaluyong City	Edsa Shangri-La, 1 Garden Way, Ortigas, Mandal...	Edsa Shangri-La, Ortigas, Mandaluyong City	Edsa Shangri-La, Ortigas, Mandaluyong City, Ma...	121.056831	14.581404	Seafood, Asian, Filipino, Indian	...	Botswana Pula(P)	Yes	No	No	No	4	4.4	Green	Very Good	270
3	6318506	Ooma	162	Mandaluyong City	Third Floor, Mega Fashion Hall, SM Megamall, O...	SM Megamall, Ortigas, Mandaluyong City	SM Megamall, Ortigas, Mandaluyong City, Mandal...	121.056475	14.585318	Japanese, Sushi	...	Botswana Pula(P)	No	No	No	No	4	4.9	Dark Green	Excellent	365
4	6314302	Sambo Kojin	162	Mandaluyong City	Third Floor, Mega Atrium, SM Megamall, Ortigas...	SM Megamall, Ortigas, Mandaluyong City	SM Megamall, Ortigas, Mandaluyong City, Mandal...	121.057508	14.584450	Japanese, Korean	...	Botswana Pula(P)	Yes	No	No	No	4	4.8	Dark Green	Excellent	229

5 rows × 21 columns

2. Missing Latitude/Longitude

```python
[2] #Drop Missing Latitude/Longitude
    df = df.dropna(subset=['Latitude', 'Longitude'])
    df[['Latitude', 'Longitude']].describe()
```

	Latitude	Longitude
count	9551.000000	9551.000000
mean	25.854381	64.126574
std	11.007935	41.467058
min	-41.330428	-157.948486
25%	28.478713	77.081343
50%	28.570469	77.191964
75%	28.642758	77.282006
max	55.976980	174.832089

3. Plot Location Map by Rating

```
#Plot Location Map by Rating
fig = px.scatter_geo(
    df,
    lat='Latitude',
    lon='Longitude',
    hover_name='Restaurant Name',
    color='Aggregate rating',
    title='Restaurant Locations (Colored by Rating)',
    opacity=0.6
)
fig.show()
```

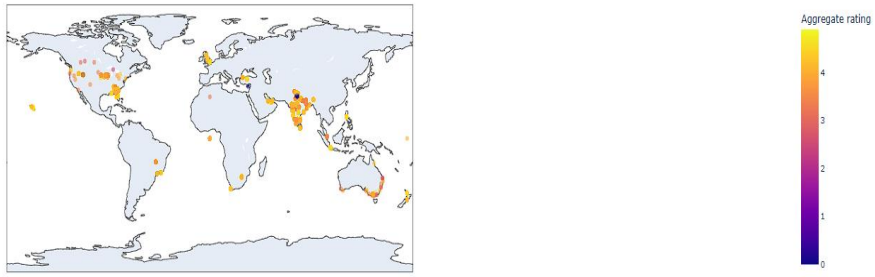

4. Top Cities with Most Restaurants

```
#Top Cities with Most Restaurants
import matplotlib.pyplot as plt

df['City'].value_counts().head(10).plot(kind='bar', figsize=(10,5), title='Top Cities with Most Restaurants', color='skyblue')
plt.ylabel('Number of Restaurants')
plt.show()
```

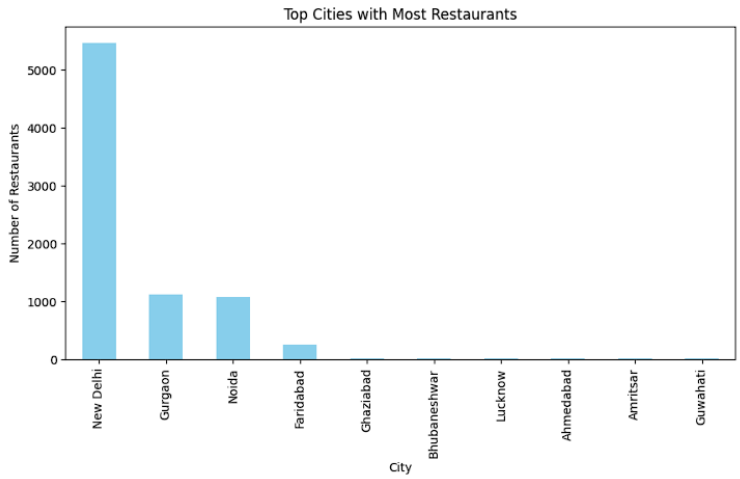

5. Top Countries by Restaurant Count

```
#Top Countries by Restaurant Count
df['Country Code'].value_counts().head(10).plot(kind='bar', figsize=(10,5), title='Top Countries by Restaurant Count', color='salmon')
plt.ylabel('Number of Restaurants')
plt.show()
```

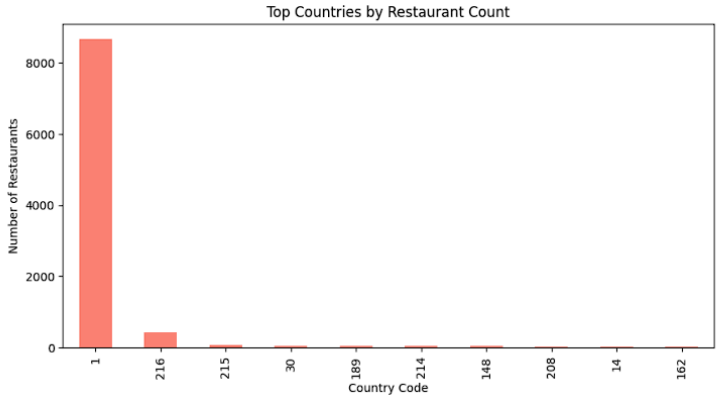

6.Geo-Rating Correlation by Location
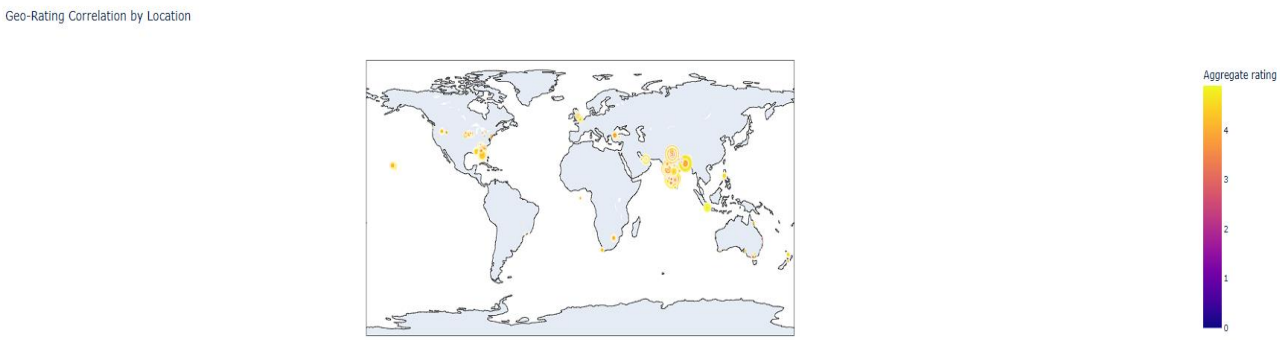
```
#Geo-Rating Correlation by Location
fig = px.scatter_geo(
    df,
    lat='Latitude',
    lon='Longitude',
    size='Votes',
    color='Aggregate rating',
    hover_name='Restaurant Name',
    title='Geo-Rating Correlation by Location',
    opacity=0.6
)
fig.show()
```